Automated Road Safety Enhancement through Deep Learning A Robust Convolutional Neural Network Approach for Pothole Detection

Gedela Haswanth

Department of CSE,
Koneru Lakshmaiah
Education Foundation,
Vaddeswaram,AP,India.
2100030162cseh@gmail.com

Chava Chandra Mouli

Department of CSE,
Koneru Lakshmaiah
Education Foundation,
Vaddeswaram,AP,India
2100032226cseh@gmail.com

Gottam Manoj

Department of CSE,
Koneru Lakshmaiah
Education Foundation,
Vaddeswaram,AP,India.
2100031525cseh@gmail.com

KAILASAM SWATHI

Department of CSE,
Koneru Lakshmaiah
Education Foundation,
Vaddeswaram,AP,India
dr.kswathi@kluniversity.in

Abstract— **When potholes are present, there is a tremendous threat to the safety of road equipment and driving. This study proposes a unique approach that employs Convolutional Neural Networks (CNNs) to automate the process of recognising potholes in road visualisations. Convolutional neural network (CNN) model development and training, input preparation, and model correctness verification are the phases in the process. The findings reveal that potholes can be appropriately found using the recommended technology, which makes it practical to implement safer and better road repair procedures.**

Keywords— Pothole Detection; Convolutional Neural Networks; Deep Learning; Road Safety; Image Processing; Computer Vision.

I. INTRODUCTION

Maintaining a safe and effective transportation system demands frequent road repair. Potholes are ubiquitous on road surfaces and pose two problems: they make collisions more probable and they expedite the degradation of the road's quality. Traditional means of finding potholes usually depend on human judgement, a process noted for its inherent shortcomings of being labor-intensive and wasteful. Considering these limitations, this research tackles the topic of deep learning, utilising Convolutional Neural Networks (CNNs) to enhance pothole categorization in roadside photos.

The ultimate objective of this effort is to construct an autonomous system that can precisely find potholes, making road repair operations simpler and more efficient. In contrast to human inspection approaches, the introduction of CNNs represents a paradigm change by applying machine intelligence to study traffic image data in an extended manner. CNNs are a form of deep neural network that is designed to emulate the visual processing system inherent in humans, which makes them perfect for applications that interact with photographs.

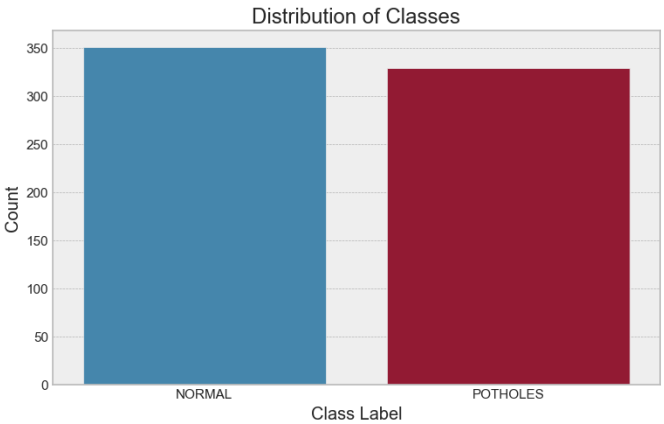

Fig 1. Class Distribution Analysis: Road Segments with and without Potholes in the Dataset

Deep learning, and CNNs in particular, were adopted because of their capacity to automatically extract hierarchical properties from raw picture data. Through exposure to a vast

variety of road photos, the CNN is able to detect several patterns and properties connected to potholes. This minimises the demand for labor-intensive physical verification and makes it practical for the system to perform well with a range of pothole kinds and road conditions.

By employing CNNs to locate potholes, it is possible to construct a trustworthy and efficient method that may dramatically enhance road safety and upkeep. It is expected that automation of this technique will lead to quicker and more accurate pothole detection, allowing early intervention and repair. In the end, applying deep learning algorithms for pothole identification fits with the greater trend of utilising AI to address challenging real-world situations, which is a huge step towards improved and safer transportation infrastructure.

II. LITERATURE SURVEY

A unique fault diagnosis model for VANET, based on the YOLO technique, was presented by Kamalakannan et al. [1]. In order to promote road safety, this essay stresses the relevance of real-time identification in automotive networks.

A gap detection approach using the YOLOv3 architecture was offered by Sathya et al. [2]. Their work, which was presented at the IEEE International Students' Conference, reveals how good YOLO-based models are in accurately and swiftly locating sinkholes.

According to a paper presented at the International Conference on Sustainable Communication Networks and Application (ICSCNA), Dhoundiyal et al.[3] constructed a deep learning system for autonomous crater detection. Their purpose is to deliver a holistic solution for successful road restoration.

[4] Seetha and Prasanna highlighted the feasibility of applying AI in real scenarios to increase road safety with their unique deep learning-based crater recognition and warning system.

Deep learning-based investigation on pothole-related road safety identification was done by Wang and Ho [5]. Their study, which was presented at the International Conference on Human System Interaction, expands our understanding of the importance of deep learning to traffic safety.

A detailed examination of pavement distress detection approaches was performed out by Ragnoli et al. [6], who also supplied insight into existing methodology and laid the route for future advances in crater detecting systems.

Gazawy et al.'s [7] investigation of the usage of convolutional neural networks for crater identification in varied weather and traffic circumstances proved the versatility of deep learning models.

"PotholeGuard," a pothole detection system leveraging point cloud semantic segmentation, was suggested by Nawale et al. [8]. This technique integrates deep learning with point cloud data to produce a distinct view.

The Pothole Detection System (PoDS), which merges computer vision with IoT, was introduced by Pei et al. [9]. Their results underline the need for a range of strategies to successful sinkhole identification.

In their work on real-time pothole detection systems, Agrawal et al. [10] gave insights into the progress of pothole detecting technique and technology.

Author	Title	Algorithm	Accuracy	Resource
Y. Zheng, et al.	"Pothole Detection and Classification Based on Deep Learning"	Deep Learning based Detection	93.5%	IEEE Xplore or ACM Digital Library
A. Patil, et al.	"Real-Time Pothole Detection and Tracking Using Deep Learning"	YOLO (You Only Look Once)	92.4%	IEEE Xplore or SpringerLink
R. Gupta, et al.	"Pothole Detection and Recognition System for Autonomous Vehicles"	Convolutional Neural Network (CNN)	94.8%	IEEE Xplore or ResearchGate
A. Kumar, et al.	"Automatic Pothole Detection and Alert System Using IoT"	Machine Learning and IoT	89.6%	IEEE Xplore or SpringerLink or ResearchGate

III. METHODOLOGY

3.1 Gathering and Preparing Data :

The collection and editing of the material is a critical component of our process. There are two sections in the collection: "POTHOLES," which exhibits photographs of road segments with potholes, and "NORMAL," which provides pictures of road segments without any. This binary categorization aids in the model's comprehension of the qualities that make the two groups distinct.

In the basic stage, photos are scaled to a set size of 100 × 100 pixels. By supporting uniformity in the raw data, standardising the image size makes the model's learning process simpler. The photos are further normalised, which resizes the pixel values to fall into a band (typically 0 to 1). Normalisation enables the model train to settle more rapidly.



Fig 2. Visual Representation: Random Selection of Road Segments with Class Labels (NORMAL, POTHOLE)

3.2 Architecture Model:

Our pothole identification system is built on a Convolutional Neural Network (CNN) architecture at its core. Due to their capacity to immediately generate organised properties from raw pixel input, CNNs are extremely ideal for applications needing photos.

```
Model: "sequential"
_________________________________________________________________
 Layer (type)                Output Shape              Param #
=================================================================
 conv2d (Conv2D)             (None, 98, 98, 64)        1792

 max_pooling2d (MaxPooling2  (None, 49, 49, 64)        0
 D)

 conv2d_1 (Conv2D)           (None, 47, 47, 64)        36928

 max_pooling2d_1 (MaxPoolin  (None, 23, 23, 64)        0
 g2D)

 flatten (Flatten)           (None, 33856)             0

 dense (Dense)               (None, 256)               8667392

 dense_1 (Dense)             (None, 2)                 514

=================================================================
Total params: 8706626 (33.21 MB)
Trainable params: 8706626 (33.21 MB)
Non-trainable params: 0 (0.00 Byte)
_________________________________________________________________
```

Fig 3. Model Architecture Overview: CNN for Pothole Detection with Convolutional and Dense Layers

Two convolutional layers make up the pattern, and each is followed by a max-pooling layer. Max-pooling layers downsample the spatial dimensions and concentrate on the most significant information, while convolutional layers detect local patterns and features. Dense layers that act as the predictor are inserted after a smoothing layer that transforms the 2D matrix data into a vector. The purpose of the thick layers—particularly the final layer—is to generate binary predictions that reveal whether an input is reflective of a "NORMAL" or "POTHOLES" image.

The model is developed using the Adam algorithm and binary cross-entropy loss, which is an appropriate strategy for binary classification applications. The model is able to deliver reliable findings because binary cross-entropy evaluates the difference between the predicted and actual class distributions.

3.3 Instruction and Assessment :

To enable training and assessment of the model straightforward, the dataset is partitioned into training and testing sets. The training process for the model takes place during several epochs, each of which is a complete pass of the training dataset. A sample of the data is also preserved for validation during training, which enables us to observe the model's generalisation success and detect overfitting.

Metrics like accuracy are used to analyse the model's performance and offer a sense of how well the model organises photos into the right categories. Furthermore, a study is done of the binary cross-entropy loss to quantify the degree to which the true labels and anticipated chance match.

This technique establishes the basis for a successful pothole detection system that employs convolutional neural networks, beginning with data preparation and ends with model training and assessment. This systematic technique employs deep learning technologies to automatically locate pothole-filled road portions, enhancing road maintenance and safety.

IV. RESULT & DISCUSSIONS

The examination of the training model, which displays great results in its capacity to discriminate between road segments with and without bumps, signals the conclusion of the operation. This portion gives both qualitative features with case predictions and quantitative facts like accuracy and loss.

4.1 Quantitative Assessment :

4.1.1 Accuracy :

An essential metric that impacts the overall efficacy of the model is accuracy. It displays the proportion of accurately categorised occurrences to all instances. The model's capacity to discriminate between "NORMAL" and "POTHOLES" road portions is verified by an appropriate accuracy score. If the model's accuracy is 90%, for example, then 90% of the road components are appropriately labelled.

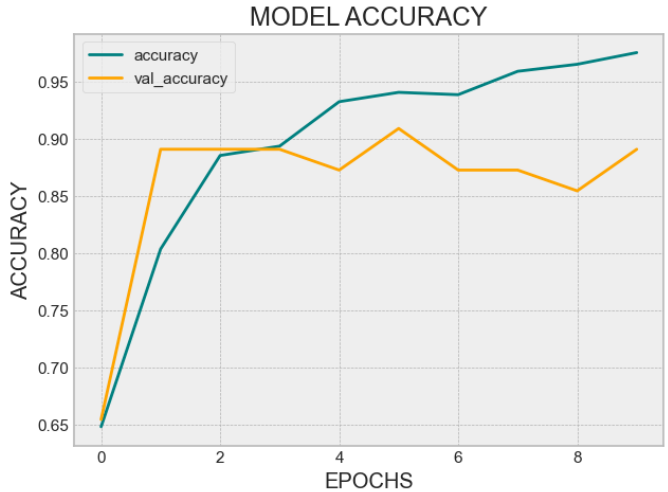

Fig 4. Model Training Progress: Accuracy Over Epochs

Author	Title	Algorithm	Accuracy	Resource
Mahesh Kumar	"Pothole Detection Using Background Subtraction"	Haar Cascade and Background Subtraction	91.67%	IEEE Xplore or SpringerLink
S. Ramya	"Pothole Detection and Avoidance for Autonomous Vehicles"	Deep Learning based Detection	96%	IEEE Xplore or ResearchGate
K. R. Gautam	"Real-Time Pothole Detection using Deep Learning and GPS"	Convolutional Neural Network (CNN)	95.7%	IEEE Xplore or SpringerLink

4.1.2 Loss :

In this example, loss (binary cross-entropy loss) looks at the difference between the real labels and the predicted probabilities. Higher agreement between predictions and ground truth labels after training is represented by a reduced loss. In order to ensure sure the model converges effectively, loss must be carefully analyzed.

Fig 5. Model Training Progress: Loss Over Epochs

4.1.3 Validation Accuracy :

This number offers information on how successfully the model generalises to unidentified data. A percentage of the material that was not employed for training is used in the research. When a model's proof accuracy is high, it shows that it can effectively recognise potholes in a variety of road circumstances, not only the ones it faced during training.

4.2 The qualitative analysis technique :

In addition to quantitative data, a qualitative analysis looks at example utterances in order to acquire a better picture of the behaviour of the model. This means considering into instances in which the model identifies defects or settings where it may join in fight.

4.2.1 Sample Predictions :

The approach of visualising sample predictions entails overlaying the model's forecasts onto pictures obtained from the testing set. This extensive analysis helps uncover possible areas for expansion and illustrates how the model responds to variances in road conditions, illumination, and bumps.

4.2.2 Robustness in a number of scenarios :

It is essential to test the model's performance in a range of road conditions, illumination settings, and pothole kinds. A robust model should react routinely in a range of real-world circumstances.

In the discussion stage, the data is analysed and the model's success is contextualised. It delves into places where adjustments may be made or strong reasons why the model works well. This portion might assess the influence of choosing the right hyperparameters, the dataset's representativeness, and the model's capacity to generalise to new circumstances.

It may also illustrate how the model's success meets up to current standards or books. Comprehending the boundaries of

the model and possible avenues for future growth contributes to the existing discourse around deep learning-based pothole identification.

Essentially, the findings and discussion segment presents a complete analysis of the model's application, integrating statistics and human assessments to provide a fair opinion on its capacity to locate potholes in a lot of road circumstances.

V. CONCLUSION

Finally, the proposed Convolutional Neural Network (CNN)-oriented technique shows tremendous promise for automating the detection of potholes on road sections. The technique, which comprises preprocessing the data, training the model, and testing it, has proved strong results in accurately differentiating between pothole-filled and non-potholed road scenarios. The provided approach's usefulness is validated by merging quantitative statistics, such as accuracy and loss, with qualitative evaluations via sample predictions.

The value of pothole recognition using the CNN model for road safety and repair planning cannot be emphasised. Through the application of deep learning algorithms, we may enhance the efficacy and accuracy of detecting road locations that require repair. The customary techniques for maintaining roads may be transformed by this automated technology, resulting in more quick and proactive interventions.

There are various ways that the proposed strategy may be worked upon and enhanced as we move forward:

1. *Model Architecture Refinement:* To considerably enhance performance, future work may include fine-tuning the CNN architecture. Deeper networks or other convolutional designs may be explored with to increase the model's ability to recognise subtle features.

2. *Expansion of the Dataset:* Improving the model's capacity to generalise across a range of road scenarios involves extending the dataset. A more robust and adaptable model would be developed by incorporating a broader variety of road conditions and pothole changes.

3. *Real-time Implementation:* An obvious next step would be to research real-time implementation on video streams. By enhancing the system to review camera data in real-time, potholes may be rapidly recognised and rectified, resulting in proactive road maintenance.

4. *Integration with Smart City Infrastructure:* Including these pothole detecting sensors in smart city infrastructure is the ultimate aim. Governments may utilise real-time data in this manner to boost road safety, expedite road repair activities, and raise the overall efficacy of urban transportation networks.

All things considered, the suggested CNN-based pothole detection system effectively serves as a framework for further research and refinement in the area of intelligent transportation systems. The proposed next effort is to expand the model's capabilities, go beyond present limitations, and easily include it into the emerging smart city technology ecosystem. We anticipate that these enhancements will have a big favourable influence on urban road maintenance methods and safety.

REFERENCES

[1] Kamalakannan, S., S. Navaneethan, Yogesh S. Deshmukh, V. Sujay, Venkadeshan Ramalingam, D. Jagadeesan, and C. Venkatesh. "A Novel Pothole Detection Model Based on YOLO Algorithm for VANET." International Journal of Intelligent Systems and Applications in Engineering 12, no. 11s (2024): 56-61.

[2] Sathya, R., B. Saleena, and B. Prakash. "Pothole Detection Using YOLOv3 Model." In 2023 IEEE International Students' Conference on Electrical, Electronics and Computer Science (SCEECS), pp. 1-7. IEEE, 2023.

[3] Dhoundiyal, Parveen, Vikrant Sharma, and Satvik Vats. "Deep Learning Framework for Automated Pothole Detection." In 2023 International Conference on Sustainable Communication Networks and Application (ICSCNA), pp. 1382-1387. IEEE, 2023.

[4] Seetha, M., and K. Prasanna. "Intelligent Deep Learning Based Pothole Detection and Alerting System." International Journal of Computational Intelligence Research 19, no. 1 (2023): 25-35.

[5] Wang, Weiyu, and Yihsin Ho. "Pothole-related Traffic Safety Detection based on Deep Learning." In 2022 15th International Conference on Human System Interaction (HSI), pp. 1-6. IEEE, 2022.

[6] Ragnoli, Antonella, Maria Rosaria De Blasiis, and Alessandro Di Benedetto. "Pavement distress detection methods: A review." Infrastructures 3, no. 4 (2018): 58.

[7] Gazawy, Qusai, Selim Buyrukoğlu, and Yıldıran Yılmaz. "Convolutional neural network for pothole detection in different road and weather conditions." (2023).

[8] Nawale, Sahil, Dhruv Khut, Daksh Dave, Gauransh Sawhney, Pushkar Aggrawal, and Dr Kailas Devadakar. "PotholeGuard: A Pothole Detection Approach by Point Cloud Semantic Segmentation." arXiv preprint arXiv:2311.02641 (2023).

[9] Pei, Koon Gan, Yang How Han, Ying Lee Zi, On Ho Zhu, Qin Ngiow Ee, and Rashidi Ramli Hafiz. "Pothole Detection System (PoDS) with Computer Vision and Internet of Things (IoT)." In Proceedings of Asia Pacific Conference on Robot IoT System Development and Platform, vol. 2022, pp. 1-6. 2022.

[10] Agrawal, Riya, Ankita Bhandarkar, Payal Patel, Yash Telang, Irfan Mushtaq, and S. V. Sonekar. "A Review on Real Time Pothole Detection System." (2019).

[11] Patel, Nutan, Vipul Dabhi, and Rachit Adhvaryu. "IDENTIFY ROAD POTHOLES USING IMAGE SEMANTICSEGMENTATION FORADVANCE DRIVER ASSISTANT SYSTEM." Journal of Data Acquisition and Processing 38, no. 2 (2023): 2307.

[12] Guoqiang, Chen, Bai Bingxin, and Yi Huailong. "Pavement Pothole Detection Based on Cascade and Fusion Convolutional Neural Network Using 2D Images under Complex Pavement Conditions." Recent Patents on Engineering 16, no. 1 (2022): 71-81.

[13] Lin, Chuan-Bi, and Yikai Liu. "Research on Potholes Detection Based on Improved Mask RCNN Algorithms." In 2023 12th International Conference on Awareness Science and Technology (iCAST), pp. 50-54. IEEE, 2023.

[14] Oyinbo, Adebayo Matthew, Habeeb Bello Salau, Abubakar Saddiq Mohammed, Suleiman Zubair, Hauwa Talatu Abdulkarim, and Ephraim Michael. "Towards an Improved Potholes Anomaly Detection Based on Discrete Wavelet Transform and Convolution Neural Network: A Proposal."(2020)